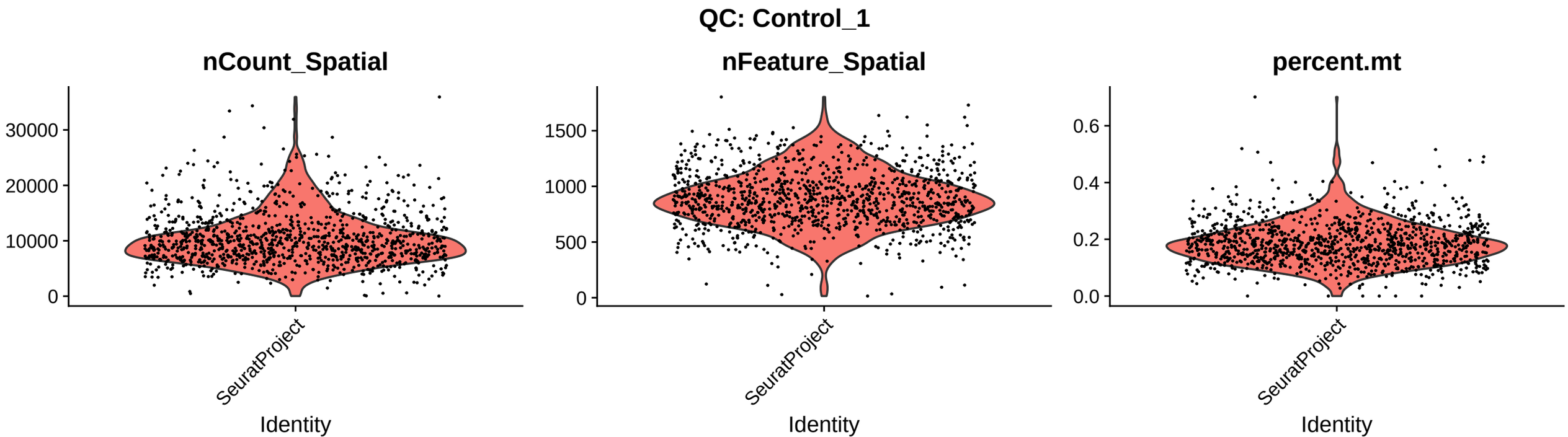
QC: Control_1
nCount_Spatial
30000
20000
10000
0
SeuratProject
Identity
nFeature_Spatial
1500
1000
500
0
SeuratProject
Identity
percent.mt
0.6
0.4
0.2
0.0
SeuratProject
Identity

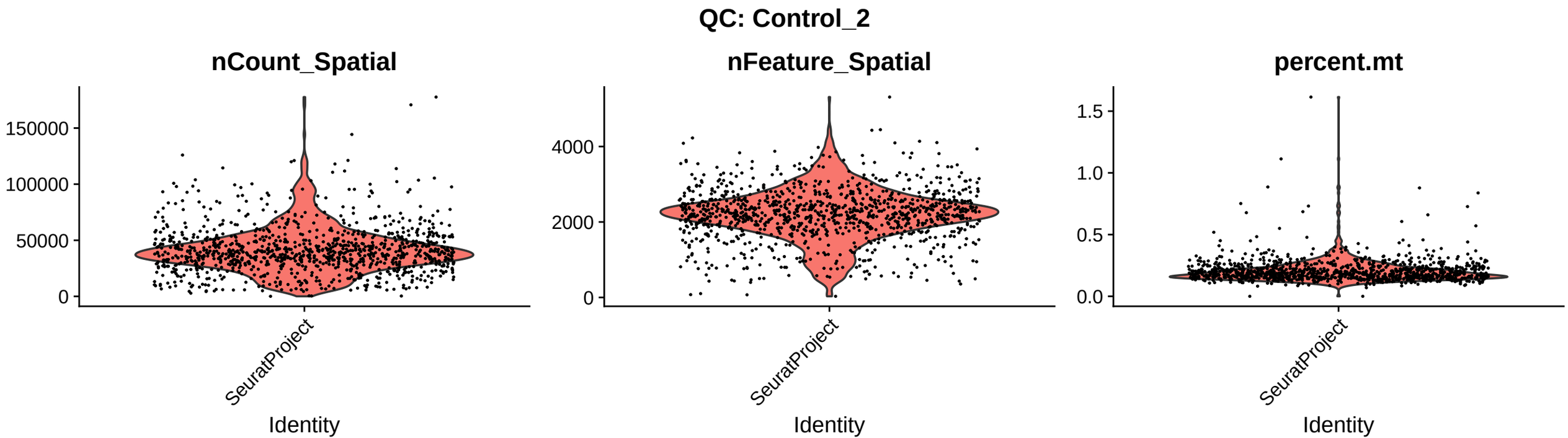
QC: Control_2
nCount_Spatial
150000
100000
50000
0
SeuratProject
Identity
nFeature_Spatial
4000
2000
0
SeuratProject
Identity
percent.mt
1.5
1.0
0.5
0.0
SeuratProject
Identity

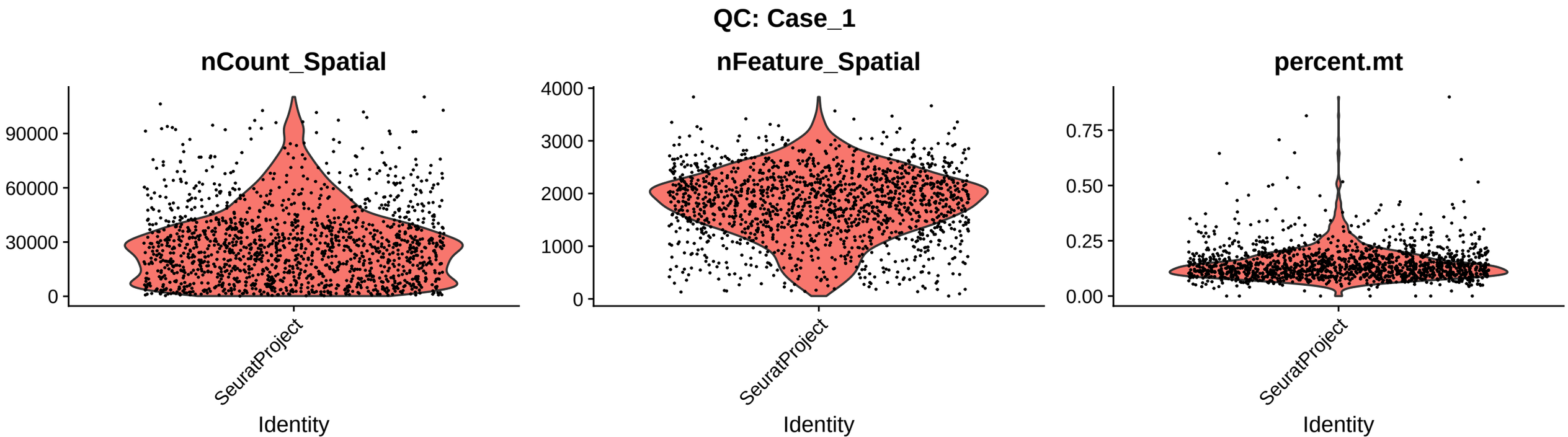
QC: Case_1
nCount_Spatial
90000
60000
30000
0
SeuratProject
Identity
nFeature_Spatial
4000
3000
2000
1000
0
SeuratProject
Identity
percent.mt
0.75
0.50
0.25
0.00
SeuratProject
Identity

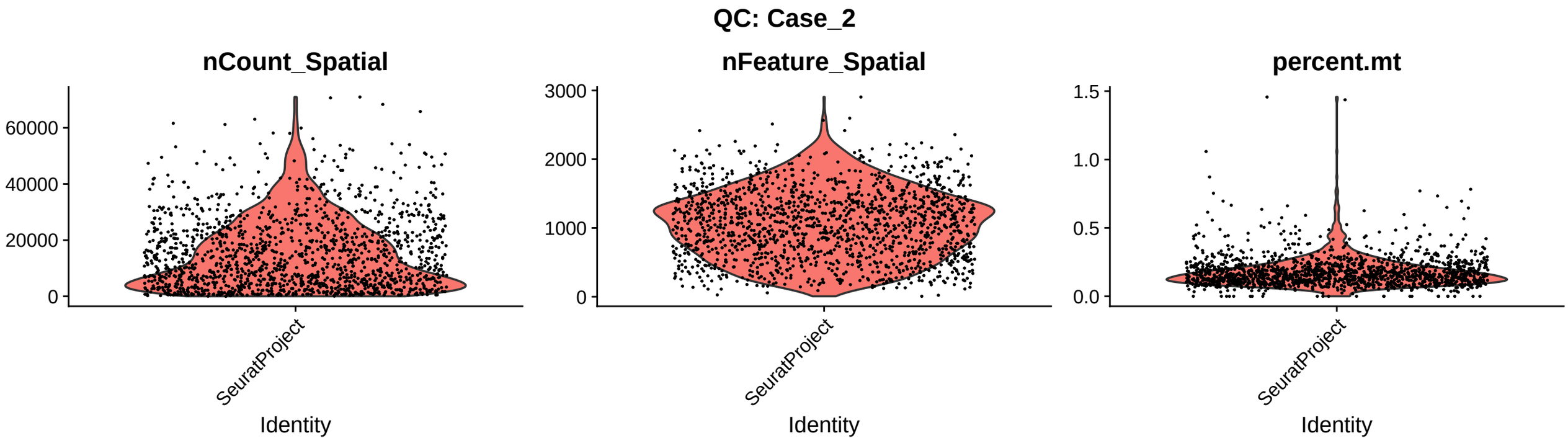
QC: Case_2
nCount_Spatial
60000
40000
20000
0
SeuratProject
Identity
nFeature_Spatial
3000
2000
1000
0
SeuratProject
Identity
percent.mt
1.5
1.0
0.5
0.0
SeuratProject
Identity